COMPASS_TEMPEST_SGW_2023: July

Stephanie J. Wilson

2023-01-14

##Set Up

Read in first data file and assess standard curves

```
##     Machine       User Run_Date Sample_Type Sample1 Sample_Year Sample_Month
## 1 Varian GC Max Wegner 20231205       Blank   Blank        2023         <NA>
## 2 Varian GC Max Wegner 20231205     STD_CH4 STD_CH4        2023         <NA>
## 3 Varian GC Max Wegner 20231205     STD_CO2 STD_CO2        2023         <NA>
## 4 Varian GC Max Wegner 20231205     STD_CH4 STD_CH4        2023         <NA>
## 5 Varian GC Max Wegner 20231205     STD_CH4 STD_CH4        2023         <NA>
## 6 Varian GC Max Wegner 20231205     STD_CH4 STD_CH4        2023         <NA>
##   Sample_Day Sample_Time Time_Zone G_W Sample_Plot Sample_Grid Sample_Depth
## 1         NA          NA      <NA>   G        <NA>        <NA>         <NA>
## 2         NA          NA      <NA>   G        <NA>        <NA>         <NA>
## 3         NA          NA      <NA>   G        <NA>        <NA>         <NA>
## 4         NA          NA      <NA>   G        <NA>        <NA>         <NA>
## 5         NA          NA      <NA>   G        <NA>        <NA>         <NA>
## 6         NA          NA      <NA>   G        <NA>        <NA>         <NA>
##              Sample_ID Dilution_Factor STD_Conc CO2_Area CH4_Area Field_Notes
## 1              Blank_0               1      0.0        0        0          NA
## 2 Blank_0_repeatforCH4               1      0.0        0        0          NA
## 3 Blank_0_repeatforCO2               1      0.0        0        0          NA
## 4         STD_1ppm_CH4               1      1.0    24224      653          NA
## 5       STD_2.5ppm_CH4               1      2.5    68305     1683          NA
## 6         STD_5ppm_CH4               1      5.0   143244     3192          NA
##   Lab_Notes
## 1        NA
## 2        NA
## 3        NA
## 4        NA
## 5        NA
## 6        NA
```

```
## `geom_smooth()` using formula = 'y ~ x'
```

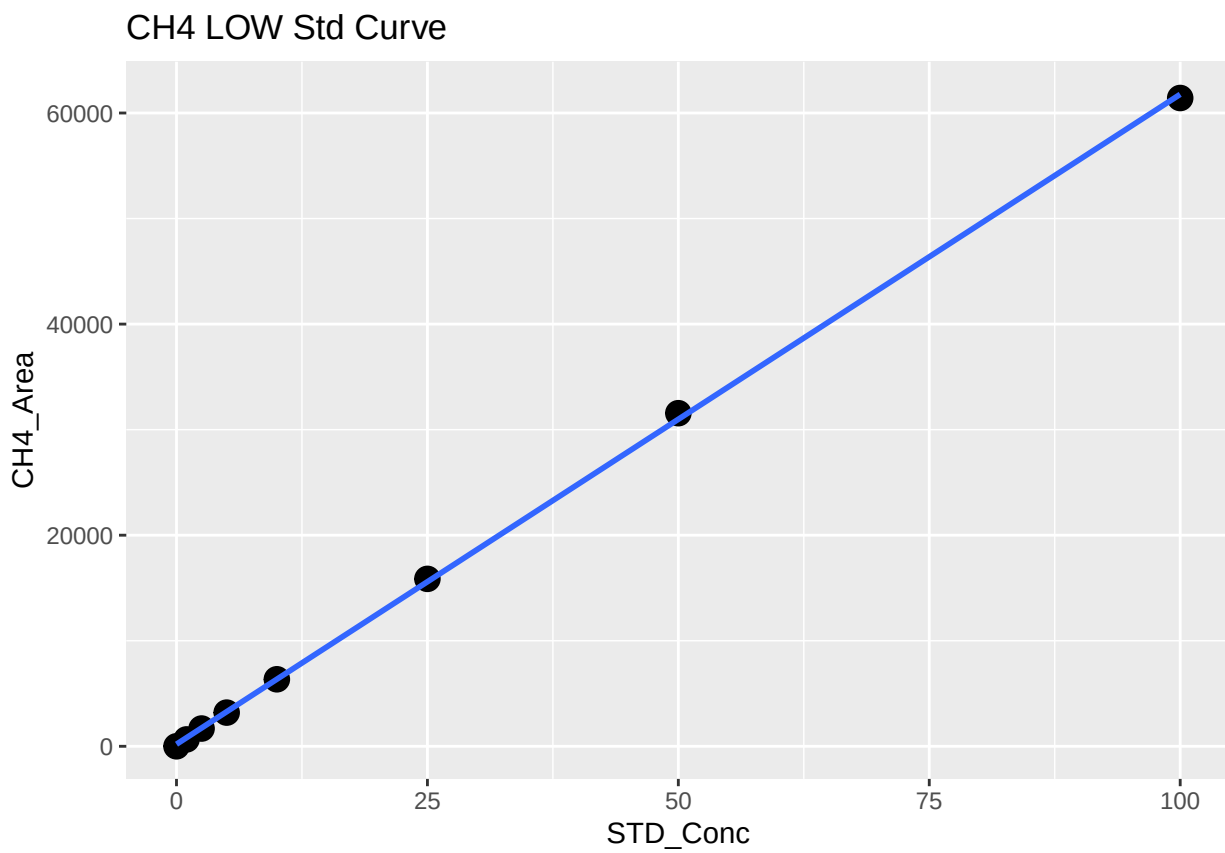


```
##
## Call:
## lm(formula = stds_ch4_low$CH4_Area ~ stds_ch4_low$STD_Conc)
##
## Residuals:
##     Min      1Q  Median      3Q     Max
## -348.35 -169.29  -68.70   64.09  575.70
##
## Coefficients:
##                        Estimate Std. Error t value Pr(>|t|)
## (Intercept)             197.246    139.183   1.417    0.206
## stds_ch4_low$STD_Conc  615.721      3.419 180.085 1.98e-12 ***
## ---
## Signif. codes:  0 '***' 0.001 '**' 0.01 '*' 0.05 '.' 0.1 ' ' 1
##
## Residual standard error: 316.6 on 6 degrees of freedom
## Multiple R-squared:  0.9998, Adjusted R-squared:  0.9998
## F-statistic: 3.243e+04 on 1 and 6 DF,  p-value: 1.978e-12

## `geom_smooth()` using formula = 'y ~ x'
```

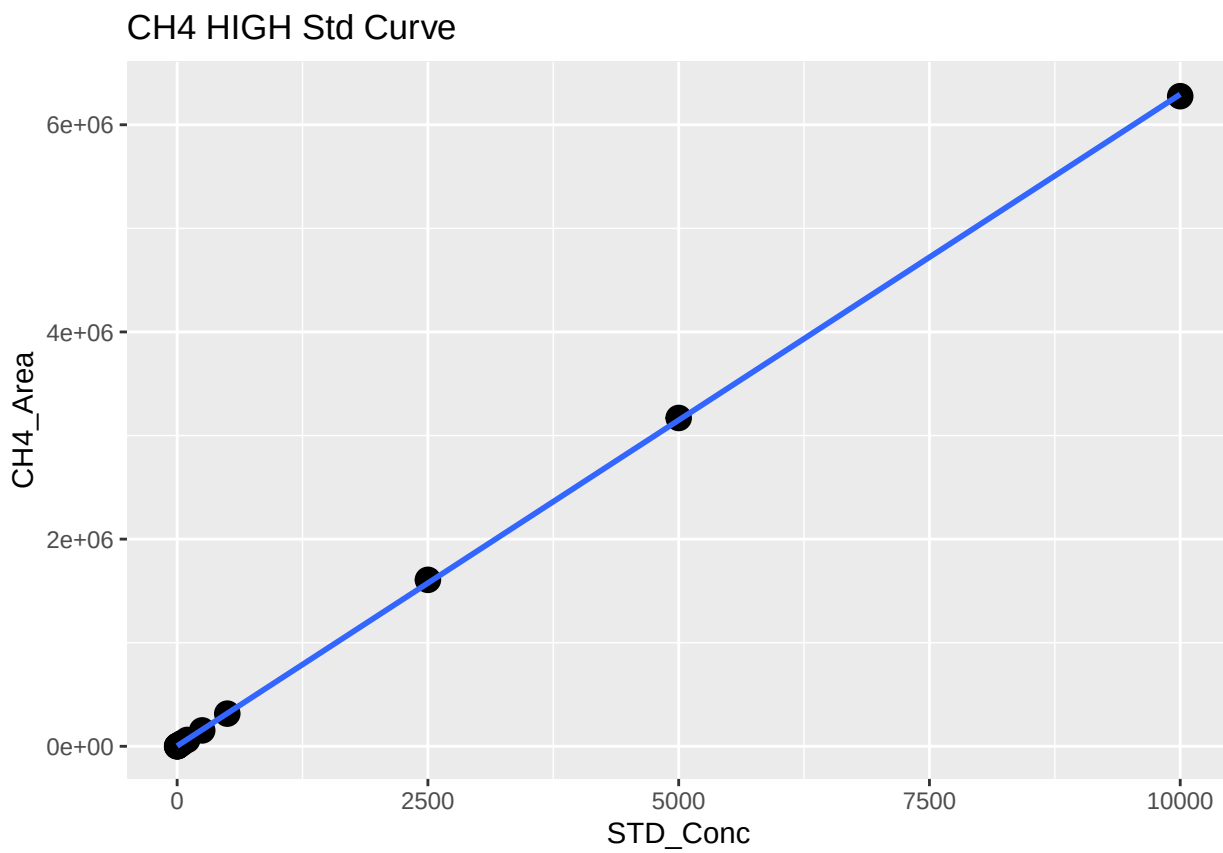


```
##
## Call:
## lm(formula = stds_ch4$CH4_Area ~ stds_ch4$STD_Conc)
##
## Residuals:
##    Min     1Q Median     3Q    Max
## -17991  -3008  -2949  -2872  31215
##
## Coefficients:
##                    Estimate Std. Error t value Pr(>|t|)
## (Intercept)        3007.544   4047.450   0.743    0.473
## stds_ch4$STD_Conc   629.078      1.272 494.469   <2e-16 ***
## ---
## Signif. codes:  0 '***' 0.001 '**' 0.01 '*' 0.05 '.' 0.1 ' ' 1
##
## Residual standard error: 13060 on 11 degrees of freedom
## Multiple R-squared:      1,  Adjusted R-squared:      1
## F-statistic: 2.445e+05 on 1 and 11 DF,  p-value: < 2.2e-16

## `geom_smooth()` using formula = 'y ~ x'
```

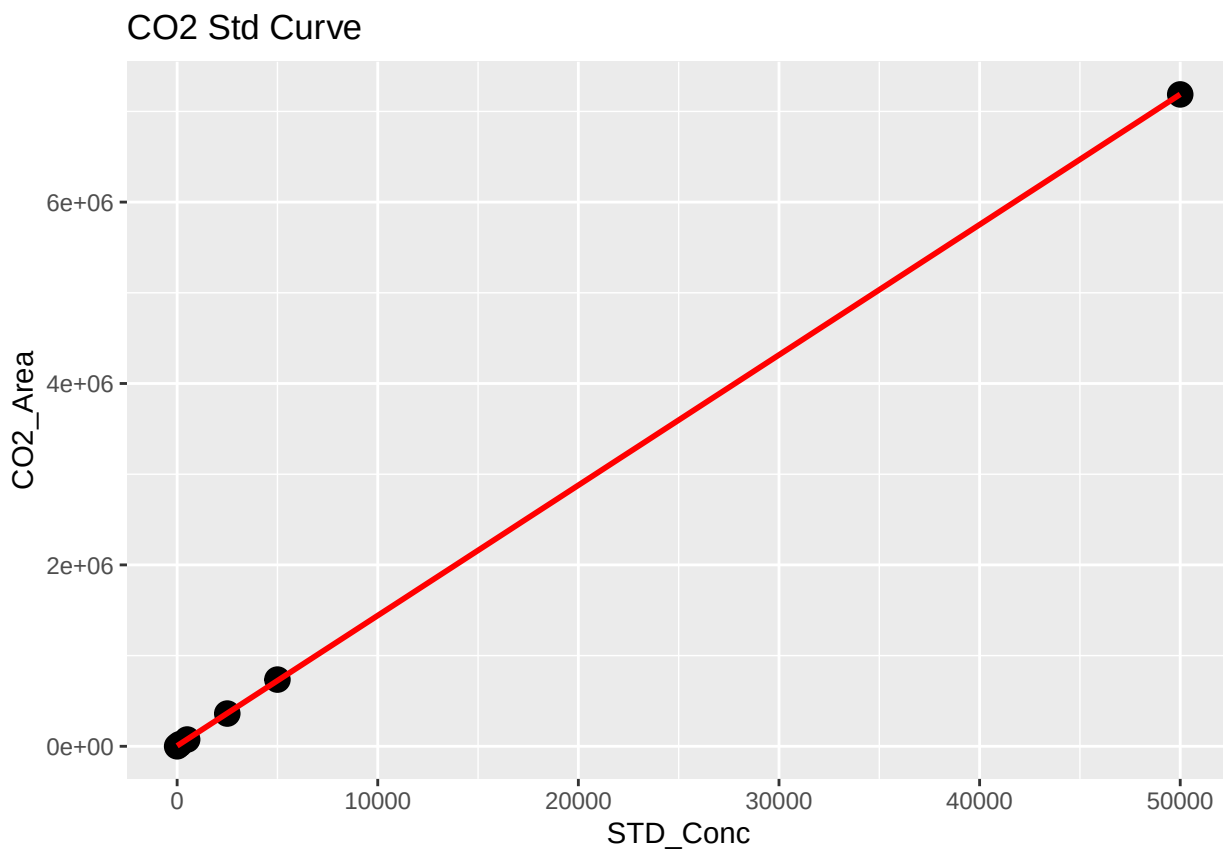


```
##
## Call:
## lm(formula = stds_co2$CO2_Area ~ stds_co2$STD_Conc)
##
## Residuals:
##       1       2       3       4       5       6
## -5033.0  -860.8 -1998.9 -3241.3 12166.4 -1032.4
##
## Coefficients:
##                     Estimate Std. Error t value Pr(>|t|)
## (Intercept)       5033.0373  3187.9729   1.579     0.19
## stds_co2$STD_Conc  143.6617     0.1552 925.638 8.17e-12 ***
## ---
## Signif. codes:  0 '***' 0.001 '**' 0.01 '*' 0.05 '.' 0.1 ' ' 1
##
## Residual standard error: 6886 on 4 degrees of freedom
## Multiple R-squared:      1,  Adjusted R-squared:      1
## F-statistic: 8.568e+05 on 1 and 4 DF,  p-value: 8.173e-12

##   X          Curve        R2    Slope  Intercept Run_Date
## 1 1  Slope_CH4_low 0.9998464 616.5204  -98.71283   202304
## 2 2 Slope_CH4_high 0.9999222 624.6385  488.16259   202304
## 3 3      Slope_CO2 0.9999951 138.7384 5556.86838   202304
## 4 4  Slope_CH4_low 0.9998464 616.5204  -98.71283   202304
## 5 5 Slope_CH4_high 0.9999222 624.6385  488.16259   202304
## 6 6      Slope_CO2 0.9999951 138.7384 5556.86838   202304
```

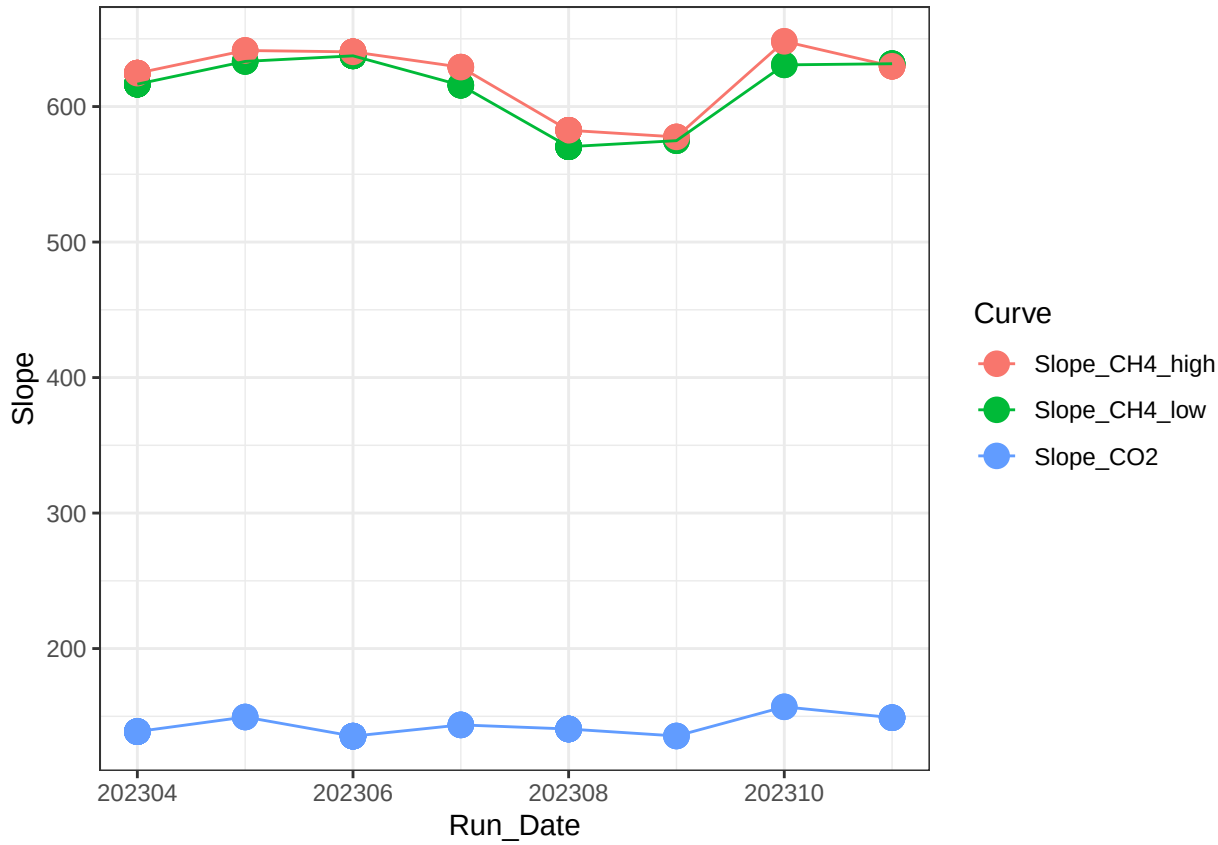

Now calculate the CH4 & CO2 concentrations in ppm

```
#head(raw)

#pull out methane standards
Samples <-  raw %>%
  filter(!str_detect(Sample_Type, "STD_CH4")) %>%
  filter(!str_detect(Sample_Type, "STD_CO2")) %>%
  filter(!str_detect(Sample_Type, "Blank")) %>%
  filter(!str_detect(Sample_Type, "Chk_STD")) %>%
   filter(!str_detect(Sample_Type, "CHKSTD")) %>%
  filter(!str_detect(Sample_Type, "NA"))
#head(Samples)

#Now flag any areas that are above the 100ppm area for CH4
Samples$CH4_Curve <- ifelse(Samples$CH4_Area >71000, "High", "Low")
#head(Samples)

#Calculate CH4 concentrations in ppm
Samples$CH4_Conc_ppm <- ifelse(Samples$CH4_Area >71000, (Samples$CH4_Area-Slope_CH4_high$Intercept)/Slo

#Calculate CO2 concentrations in ppm
Samples$CO2_Conc_ppm <- ((Samples$CO2_Area-Slope_CO2$Intercept)/Slope_CO2$Slope)
```

```r
#head(Samples)

##########make flags for any dilutions needed
#highest CH4 standard = 10000
#highest CO2 standard = 50000

Samples$CH4_Flag <- ifelse(Samples$CH4_Conc_ppm >10000, "Needs Dilution", "Within Range")
Samples$CO2_Flag <- ifelse(Samples$CO2_Conc_ppm >50000, "Needs Dilution", "Within Range")
#head(Samples)
```

Check the Check Standards

```
## Warning: Using ‘size‘ aesthetic for lines was deprecated in ggplot2 3.4.0.
## i Please use ‘linewidth‘ instead.
## This warning is displayed once every 8 hours.
## Call ‘lifecycle::last_lifecycle_warnings()‘ to see where this warning was
## generated.
```

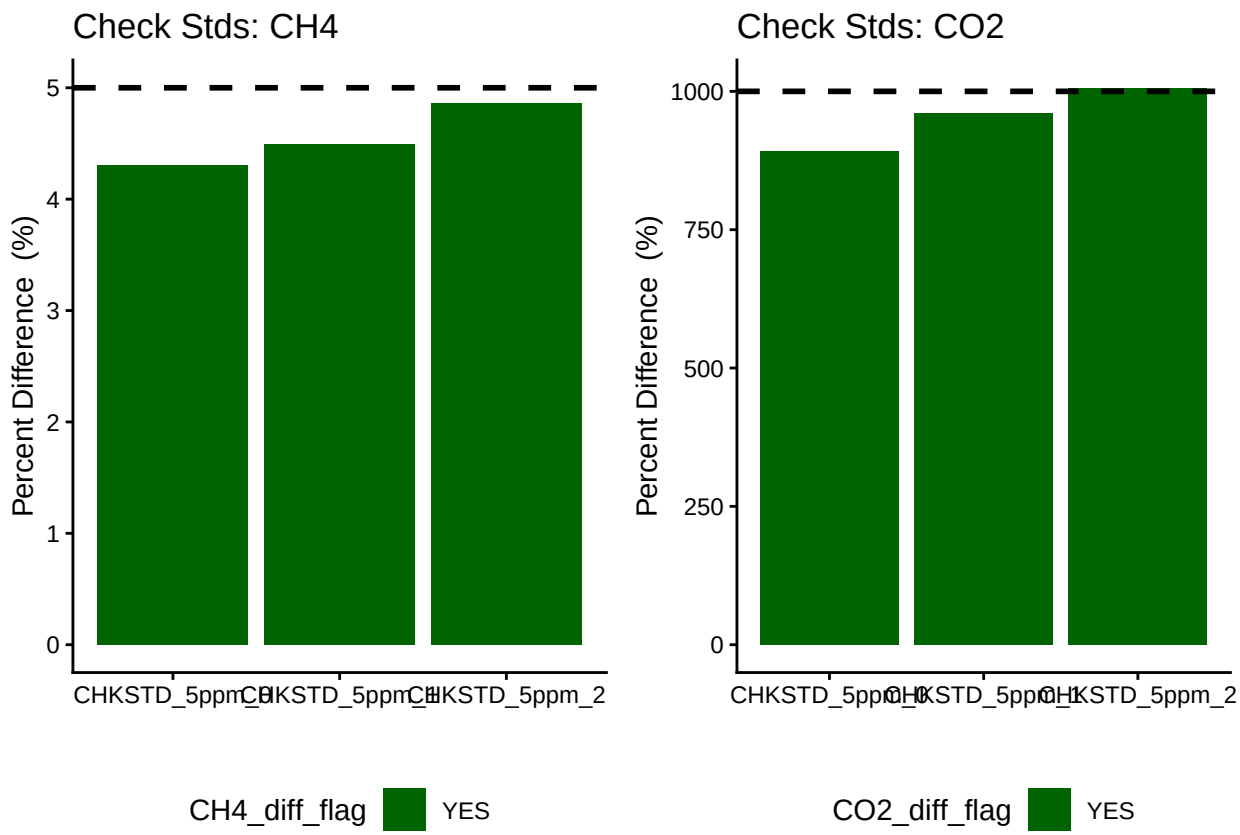

Dilution correct samples

```r
#multiply the concentration by the dilution factor
Samples$CH4_Conc_ppm_dilcorr <- (Samples$CH4_Conc_ppm * Samples$Dilution_Factor)
```

```r
Samples$CO2_Conc_ppm_dilcorr <- (Samples$CO2_Conc_ppm * Samples$Dilution_Factor)

#check results
#head(Samples)

#quick first look at the samples
ch4_samples <-  ggplot(data = Samples, aes(x = Sample_ID, y = CH4_Conc_ppm, fill=CH4_Flag)) +
       geom_bar(stat = 'identity') +
        scale_fill_manual(values=c("darkgreen","red"))+
        theme_classic() + labs(x= " ", y="CH4 (ppm)", title="CH4: Green = Within Range") +
        theme(legend.position="none")


co2_samples <-  ggplot(data = Samples, aes(x = Sample_ID, y = CO2_Conc_ppm, fill=CO2_Flag)) +
       geom_bar(stat = 'identity') +
        scale_fill_manual(values=c("red", "darkgreen"))+
        theme_classic() + labs(x= " ", y="CO2 (ppm)", title="CO2: Green = Within Range") +
        theme(legend.position="none")

ggarrange(ch4_samples, co2_samples, nrow=1, ncol=2)
```

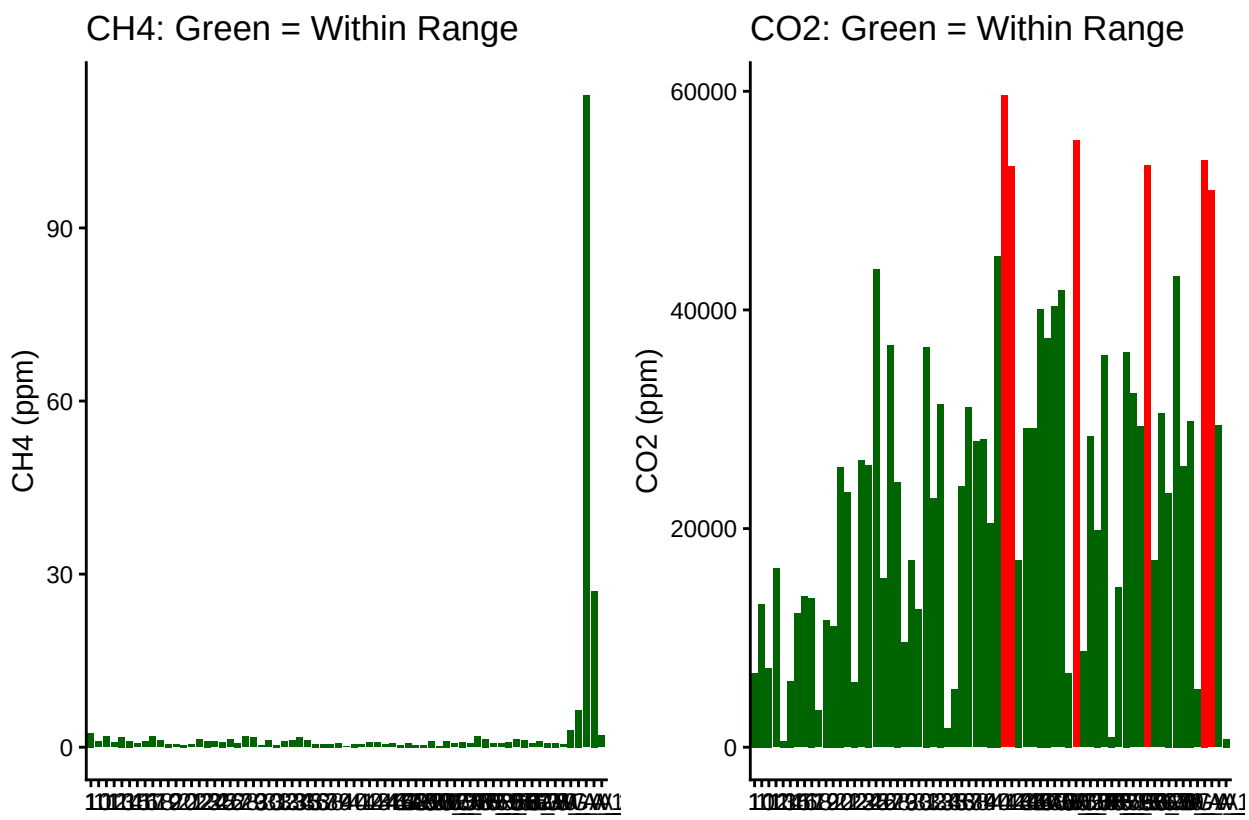

If samples are water calculate gas in water

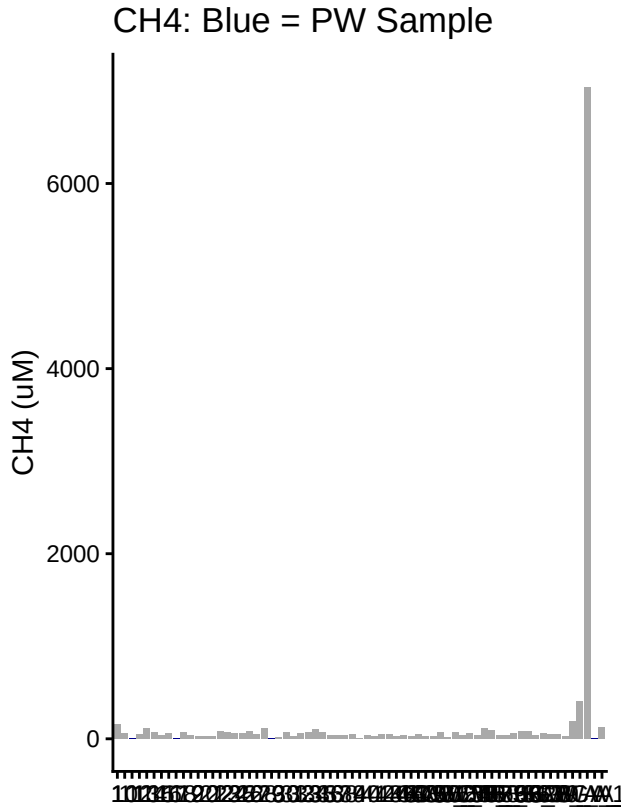

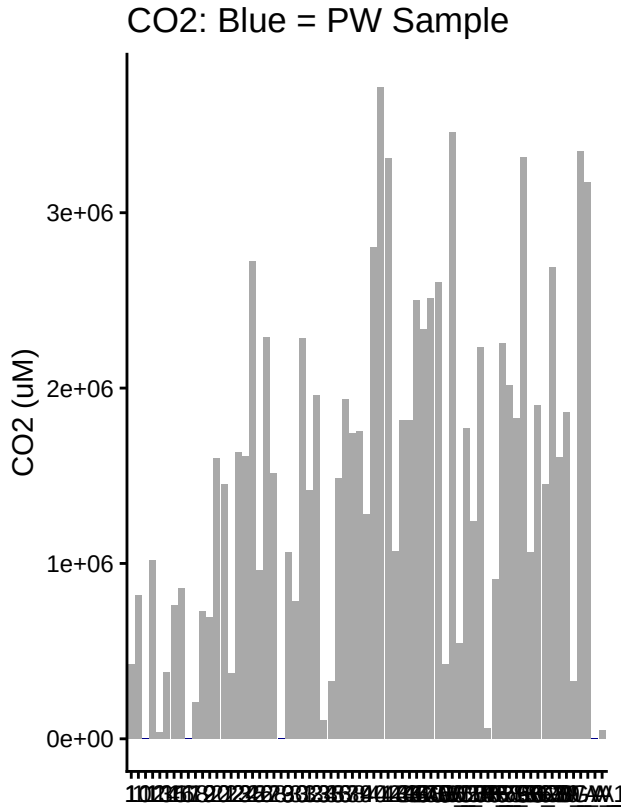

Write out processed data & slopes

```
#check results
#head(Samples)

#pull out what we need
Samples1 <- Samples[ ,c(1:3,6:16,20, 24:30)]
#head(Samples1)

write.csv(Samples1, "2023 Processed Data/COMPASS_TEMPEST_SGW_202307_Processed.csv")
```

#end